# PoliticDash

Argentina Political-Economic Intelligence Dashboard

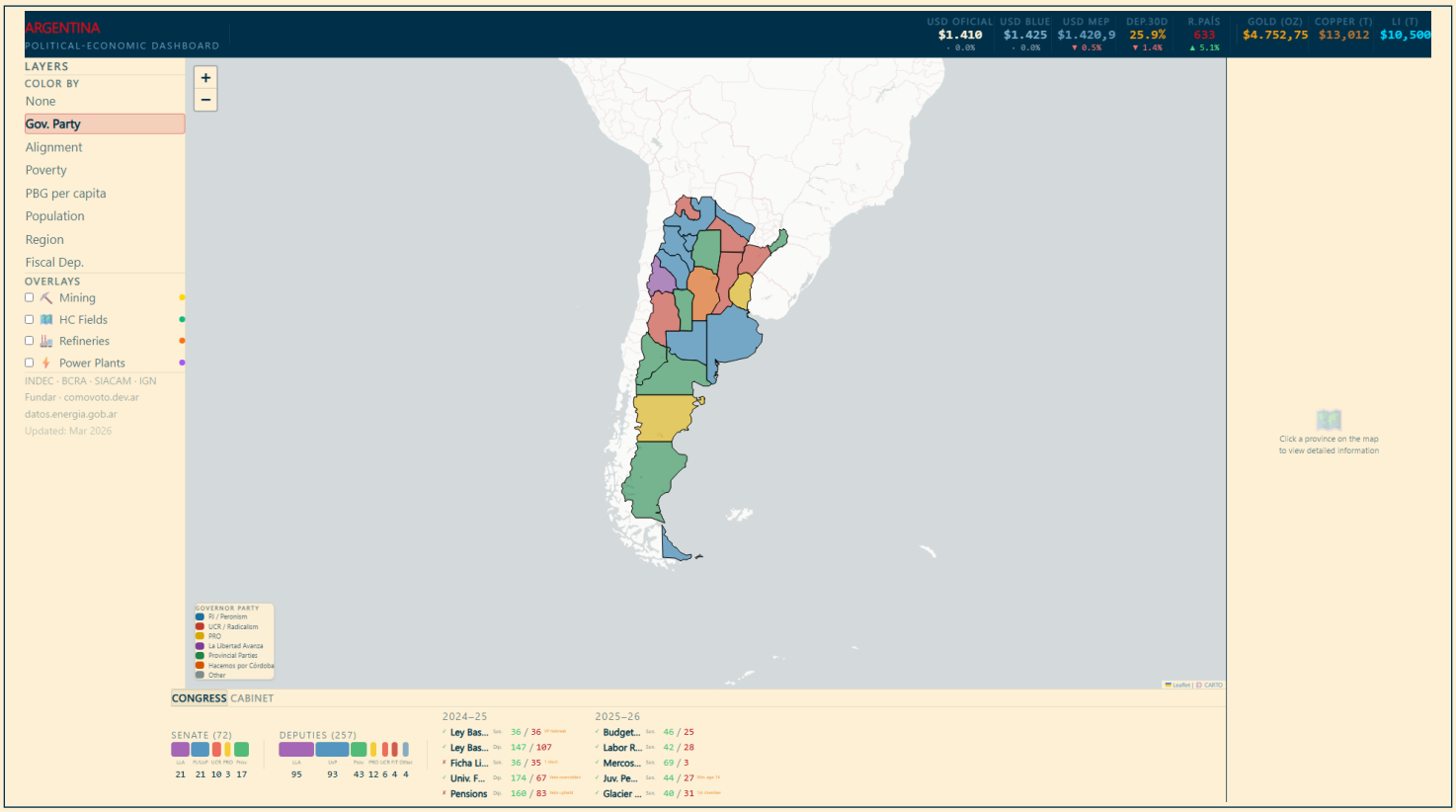


An interactive map-driven dashboard covering Argentina's political and economic landscape across 24 provinces. Explore governor alignments, congressional blocs, live macro indicators, 328 mining projects, 78 power plants, provincial cabinets, and 52-sector economic breakdowns -- updated March 2026 with official sources.

**24**
Provinces Mapped

**329**
Legislators Tracked

**328**
Mining Projects

**78**
Power Plants

**5**
Live Market Indicators

**52**
Economic Sectors

Sources: INDEC · BCRA · SIACAM · CAMMESA · comovoto.dev.ar · datos.energia.gob.ar

# Key Features

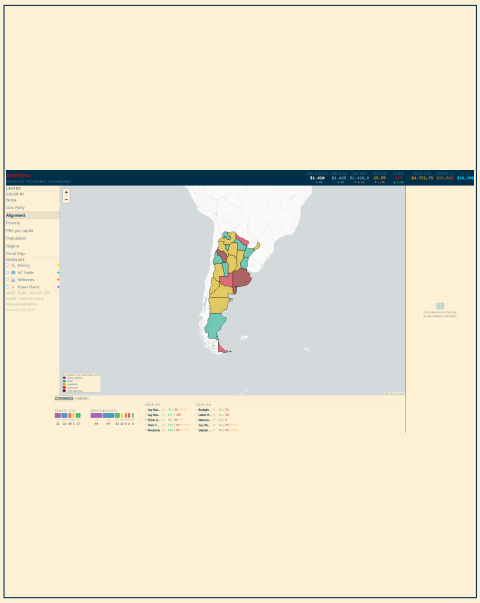

Governor alignment choropleth



Live macro indicators (USD, risk, rates)

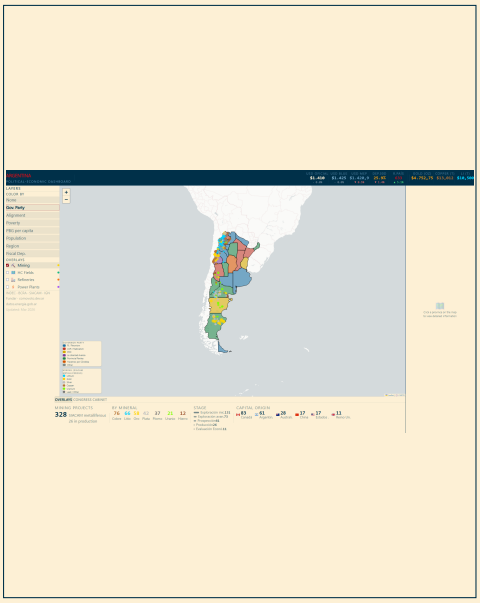

Mining projects overlay (328 SIACAM)

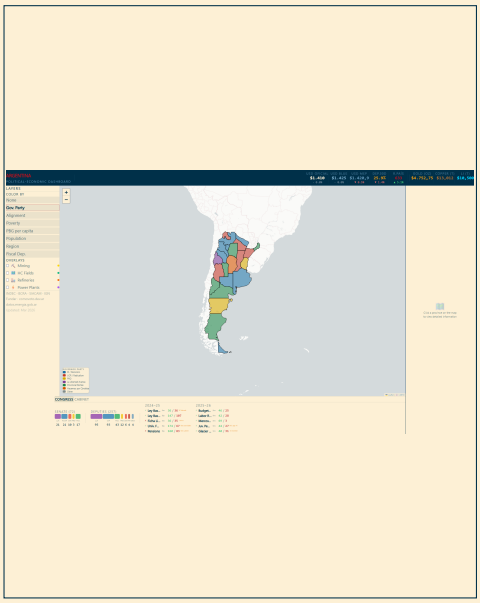

Provincial detail panel

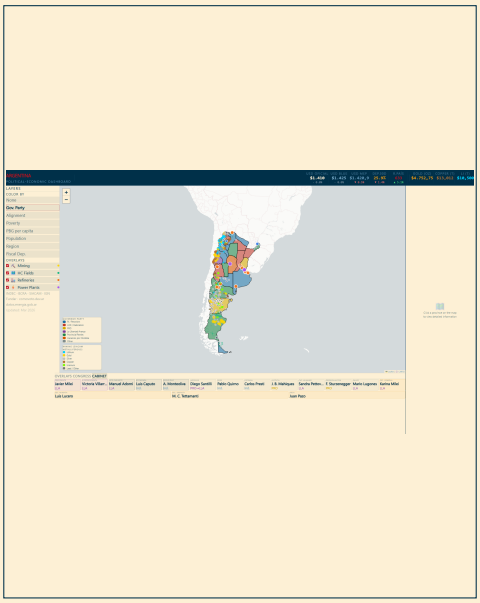

National cabinet composition

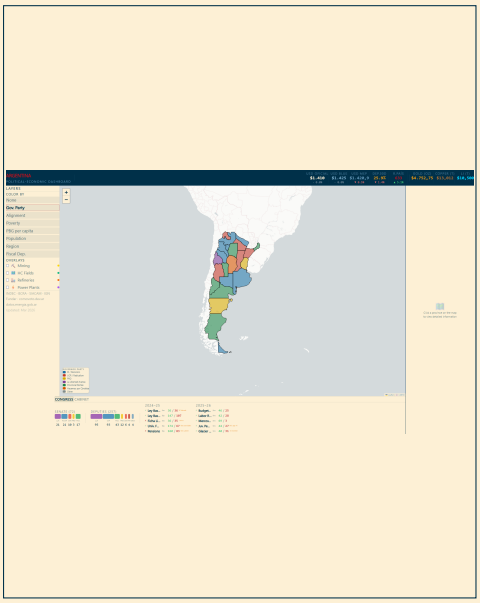

Provincial congress & vote analysis

- **Interactive choropleth:** party, alignment, poverty, PBG, population, fiscal dependency
- **Real-time macro:** USD official/blue/MEP, country risk, deposit rates, gold, copper, lithium
- **Provincial drill-down:** governor, cabinet, socioeconomic profile, economic structure
- **Energy overlays:** HC fields, gas pipelines, refineries, power plants with production data
- **Legislative tracking:** 329 senators & deputies with government alignment scores
- **Mining intelligence:** 328 projects by mineral, stage, operator country of origin

**Scan to open live demo**

Augusto Parrino · github.com/auparrino · March 2026