PoliticDash

Argentina Political-Economic Dashboard

Interactive geopolitical and economic intelligence for Argentina's 24 provinces

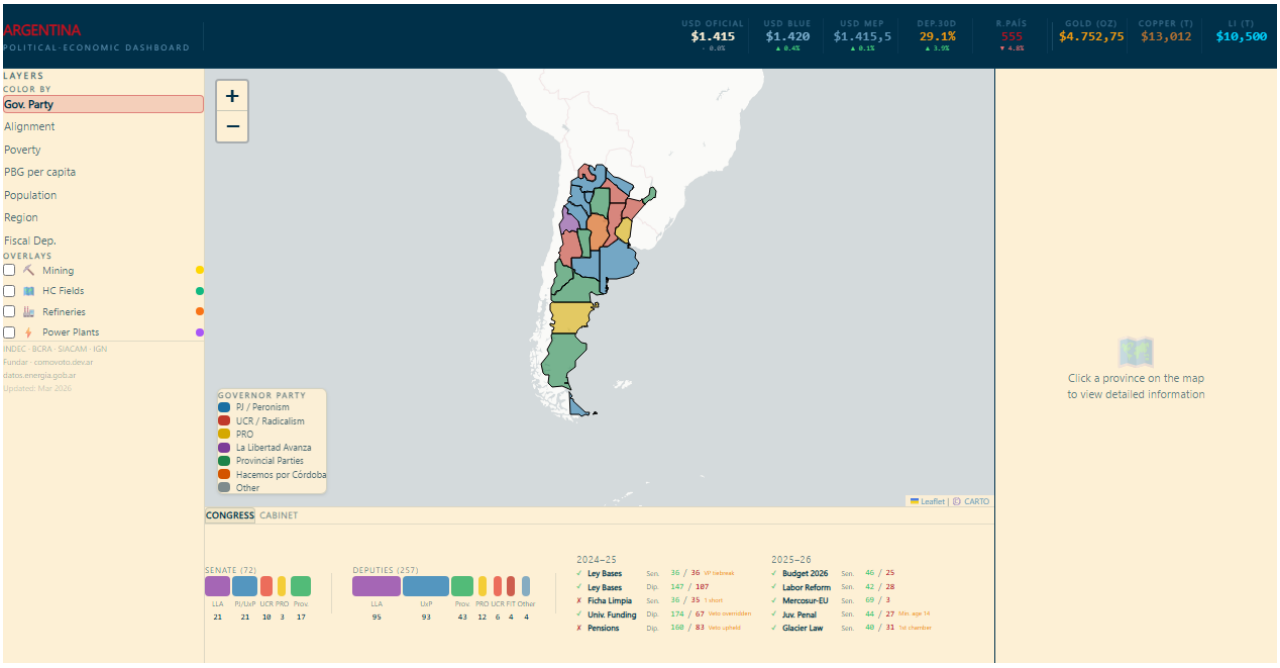

About this project

PoliticDash centralizes political, economic, and demographic data for all 24 Argentine provinces into a single interactive map. Users can explore governor party affiliation, legislative alignment with the national government, poverty rates, gross product, and key economic sectors side by side.

The platform tracks real-time macro indicators (FX rates, country risk, deposit rates) with daily trend arrows, overlays 328 metalliferous mining projects by mineral type and investor origin, and displays energy infrastructure (power plants, refineries, HC fields) layered over the choropleth.

Designed for analysts, journalists, and policy researchers who need a unified view of Argentina's political landscape and its economic fundamentals without navigating dozens of disconnected sources.

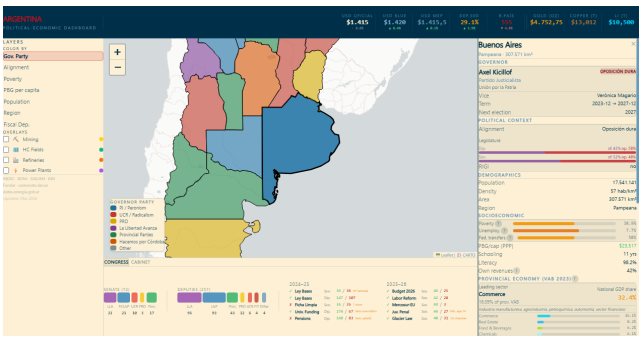

Province detail: governor, alignment, demographics & economic structure

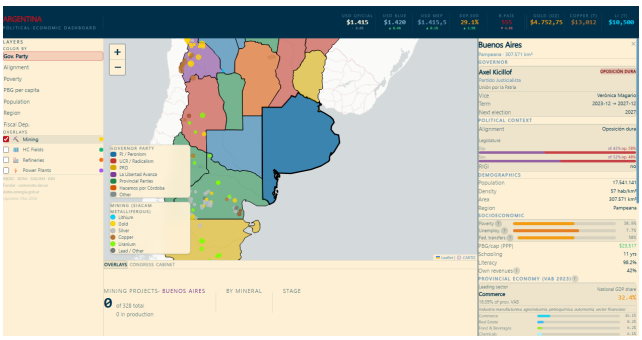

Mining overlay: 328 projects by mineral, stage & investor origin

Key capabilities

- Political mapping	24 provinces colored by party, gov. alignment, RIGI stance, and poverty quintile
- Legislative tracker	Per-legislator vote alignment on 6 key bills tracked since Dec 2025
- Live macro header	ARS/USD rates (oficial, blue, MEP), deposit rate and country risk with daily deltas
- Mining intelligence	SIACAM database: 328 projects filterable by province, mineral, stage, capital origin
- Energy infrastructure	78 power plants, HC fields, refineries, and gas pipelines layered on the map
- Provincial economics	INDEC VAB sectoral breakdown (52 sectors) + poverty, GDP per capita, schooling

Coverage

24 provinces | 257 deputies | 72 senators

328 mining projects | 78 power plants

6 tracked votes | live macro data

Access project